PCA of Environmental Variables (10 clusters)

log1p−transformed nutrients + scaled; 9 variables

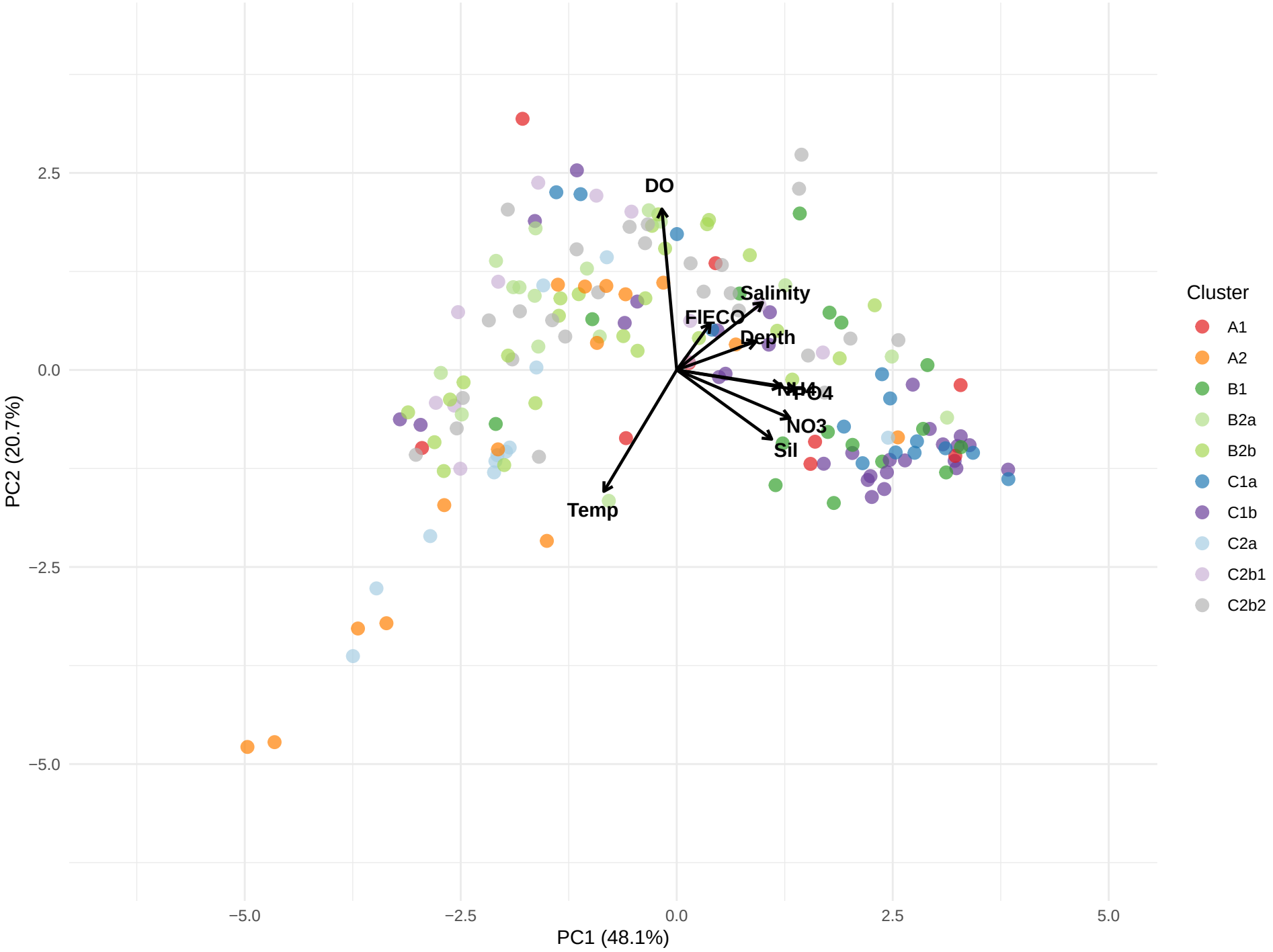

PCA of Environmental Variables (points only)

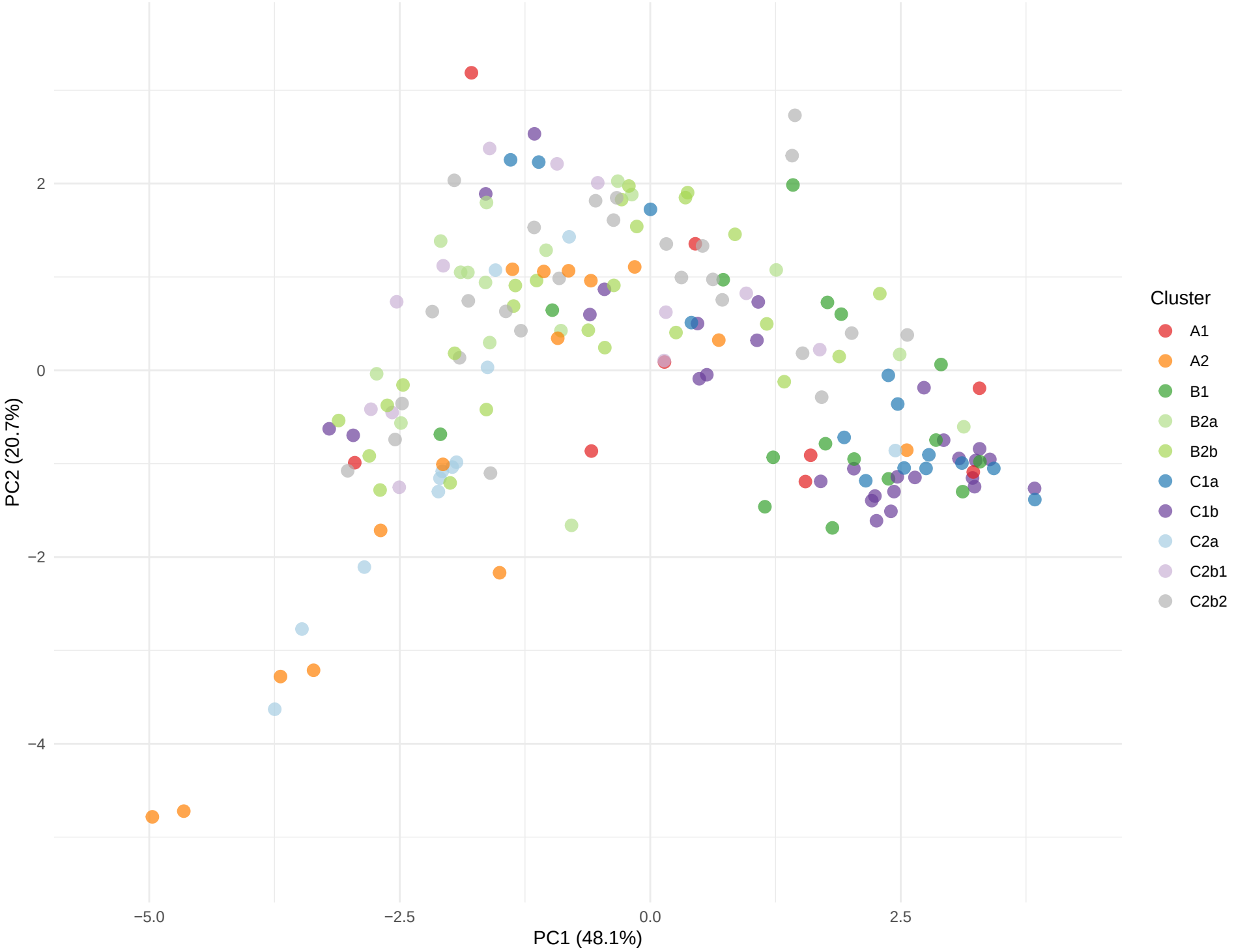

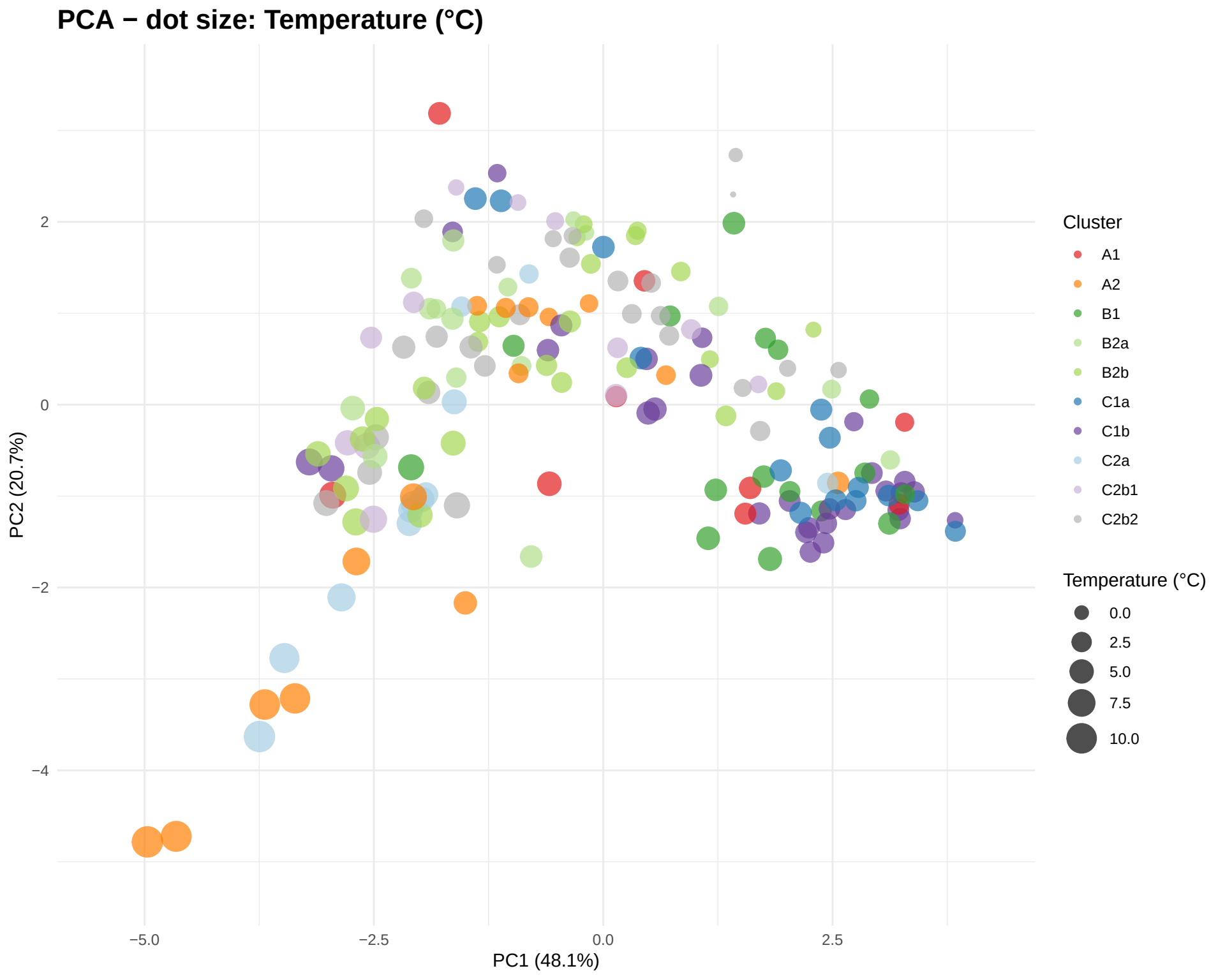
PCA − dot size: Temperature (°C)
PC2 (20.7%)
PC1 (48.1%)
2
0
−2
−4
−5.0
−2.5
0.0
2.5
Cluster
A1
A2
B1
B2a
B2b
C1a
C1b
C2a
C2b1
C2b2
Temperature (°C)
0.0
2.5
5.0
7.5
10.0

PCA − dot size: Salinity

PCA − dot size: Dissolved Oxygen

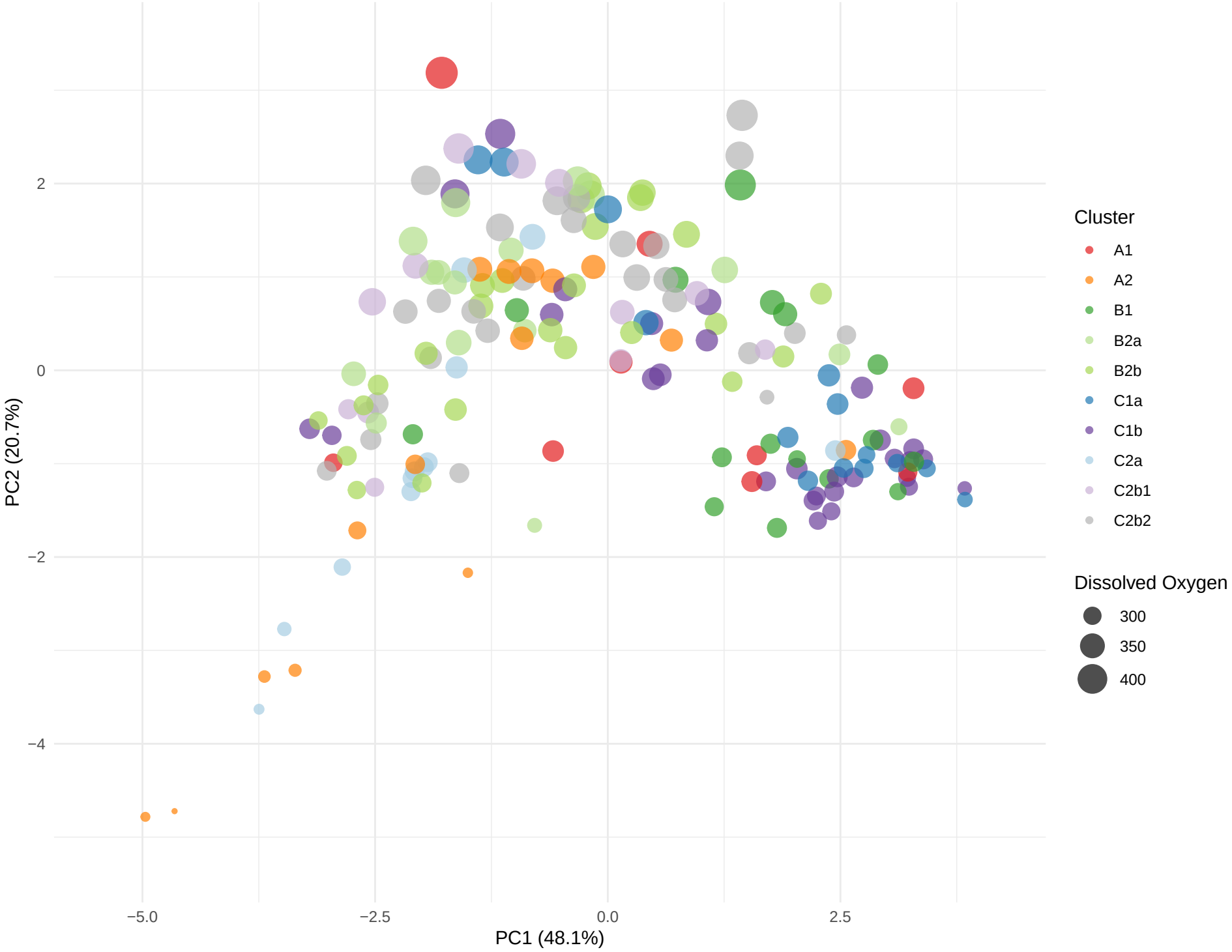

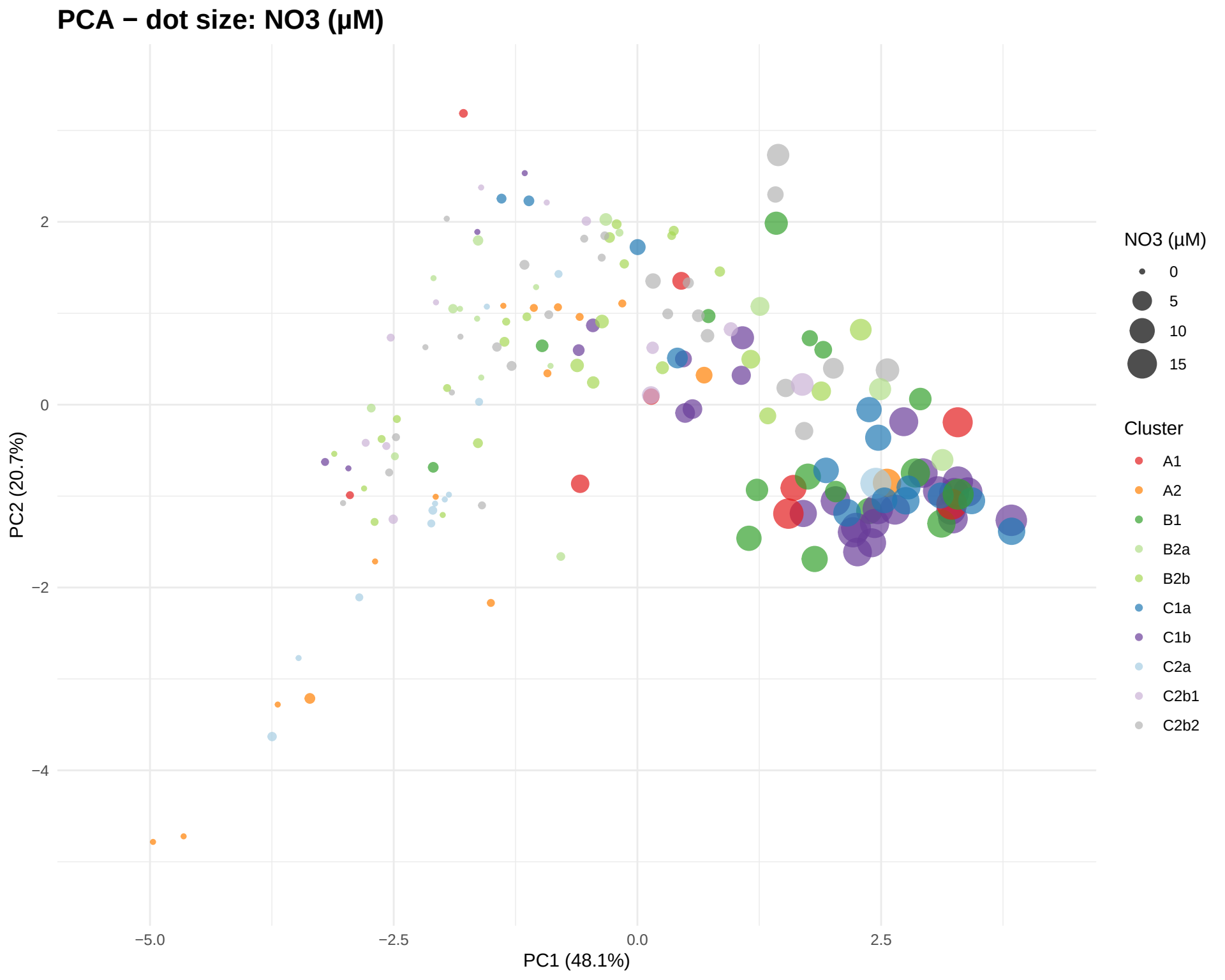
PCA − dot size: NO3 (µM)
PC2 (20.7%)
PC1 (48.1%)
2
0
−2
−4
−5.0
−2.5
0.0
2.5
NO3 (µM)
0
5
10
15
Cluster
A1
A2
B1
B2a
B2b
C1a
C1b
C2a
C2b1
C2b2

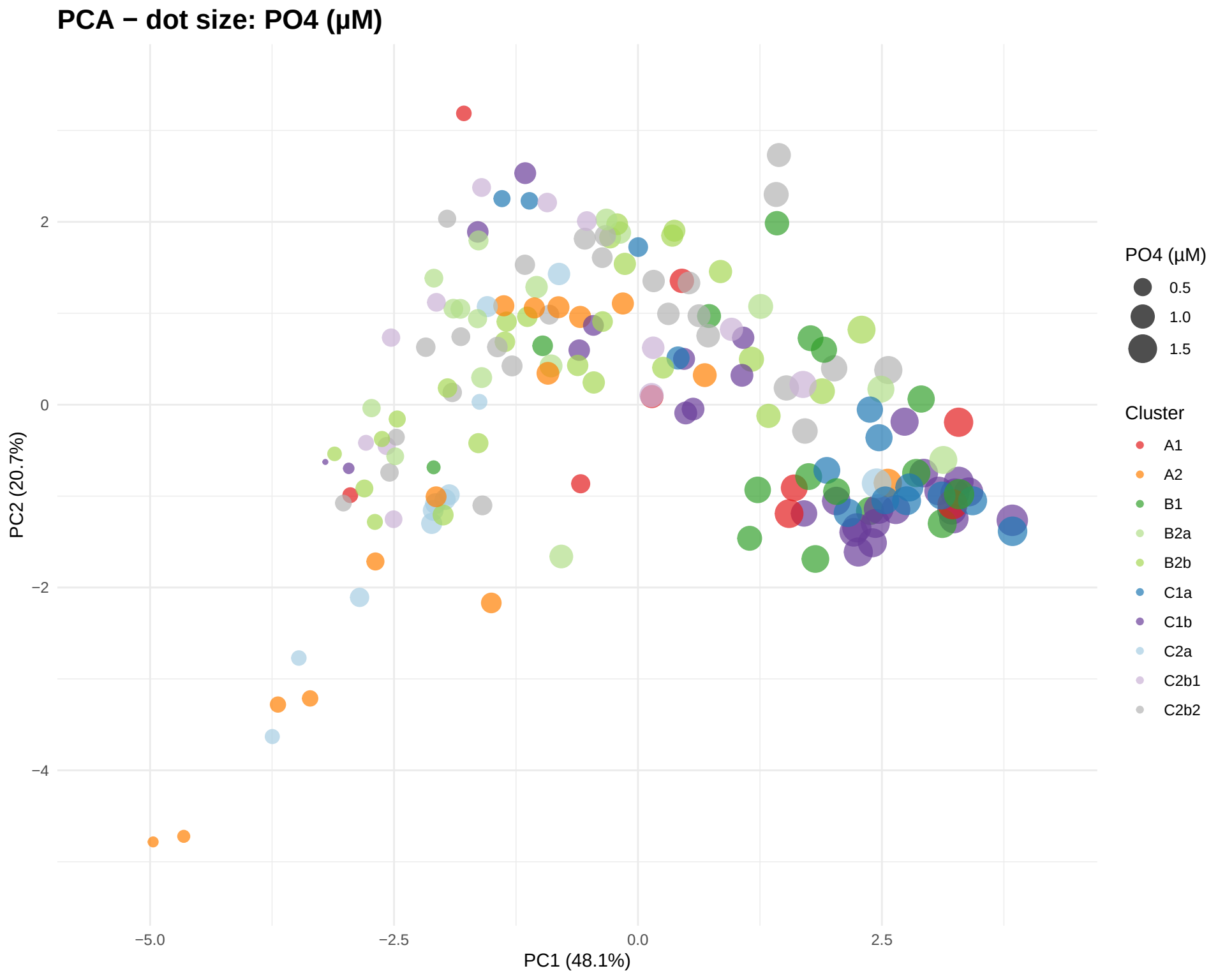
PCA − dot size: PO4 (µM)
PC2 (20.7%)
PC1 (48.1%)
2
0
−2
−4
−5.0
−2.5
0.0
2.5
PO4 (µM)
0.5
1.0
1.5
Cluster
A1
A2
B1
B2a
B2b
C1a
C1b
C2a
C2b1
C2b2

PCA − dot size: Silicate (µM)

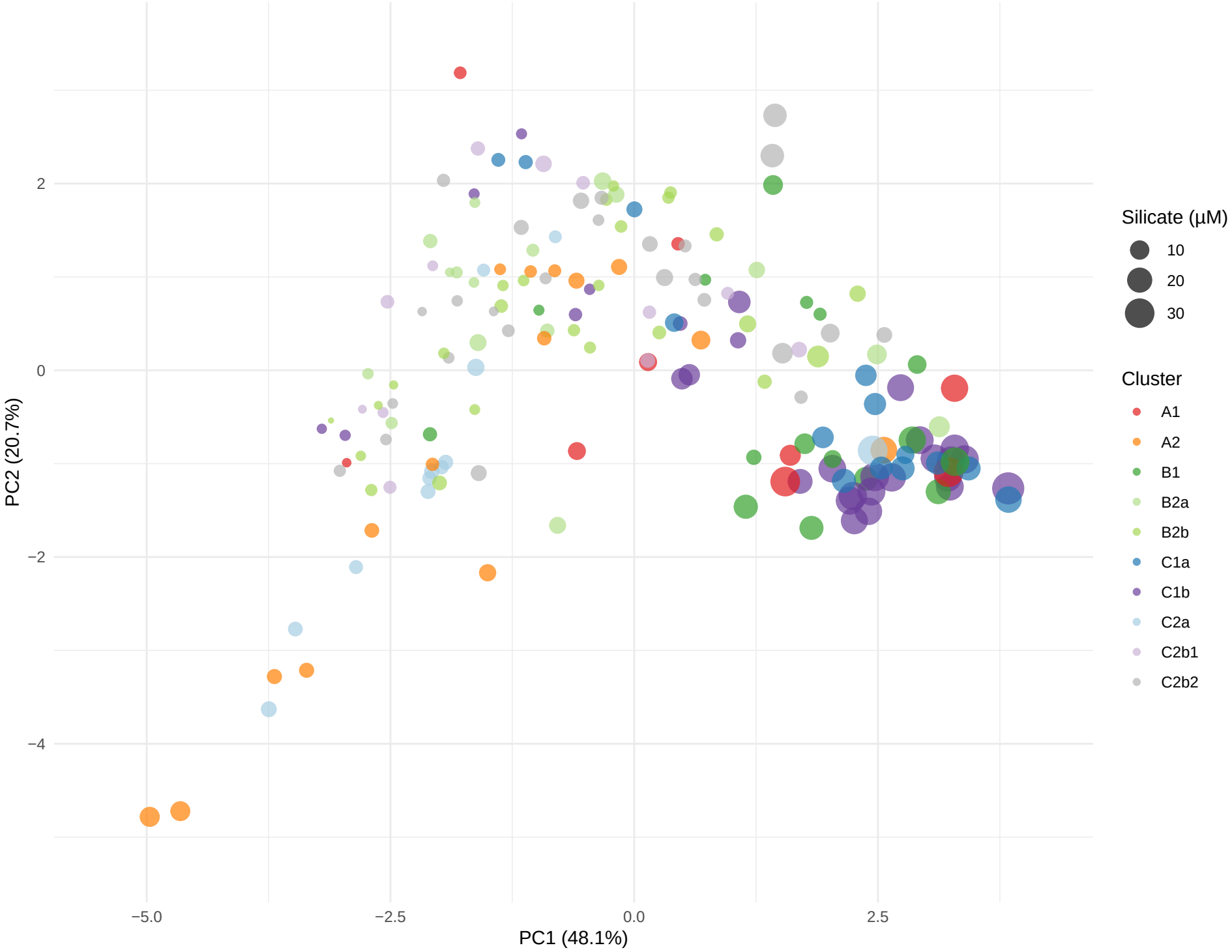

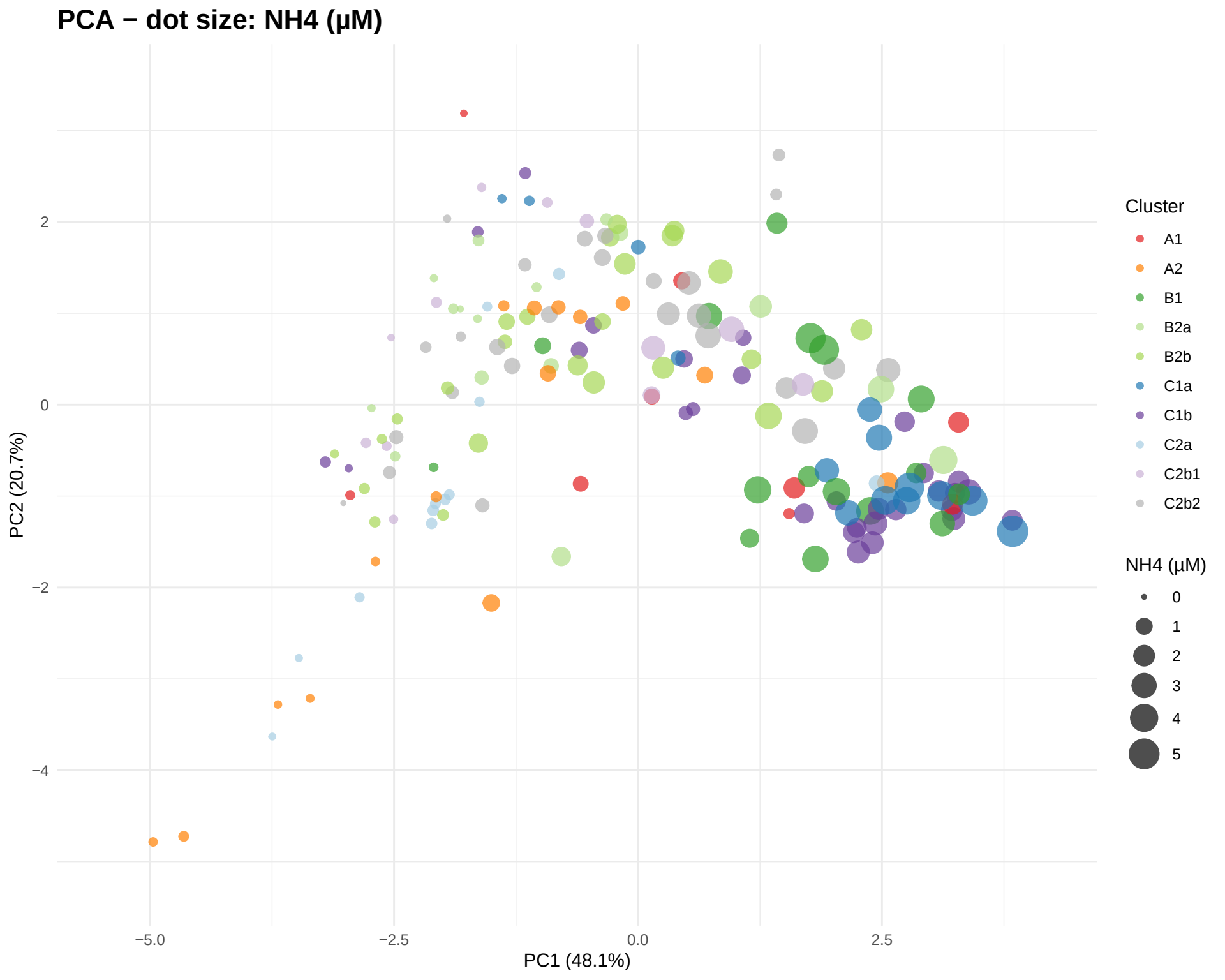
PCA − dot size: NH4 (µM)
PC2 (20.7%)
PC1 (48.1%)
2
0
−2
−4
−5.0
−2.5
0.0
2.5
Cluster
A1
A2
B1
B2a
B2b
C1a
C1b
C2a
C2b1
C2b2
NH4 (µM)
0
1
2
3
4
5

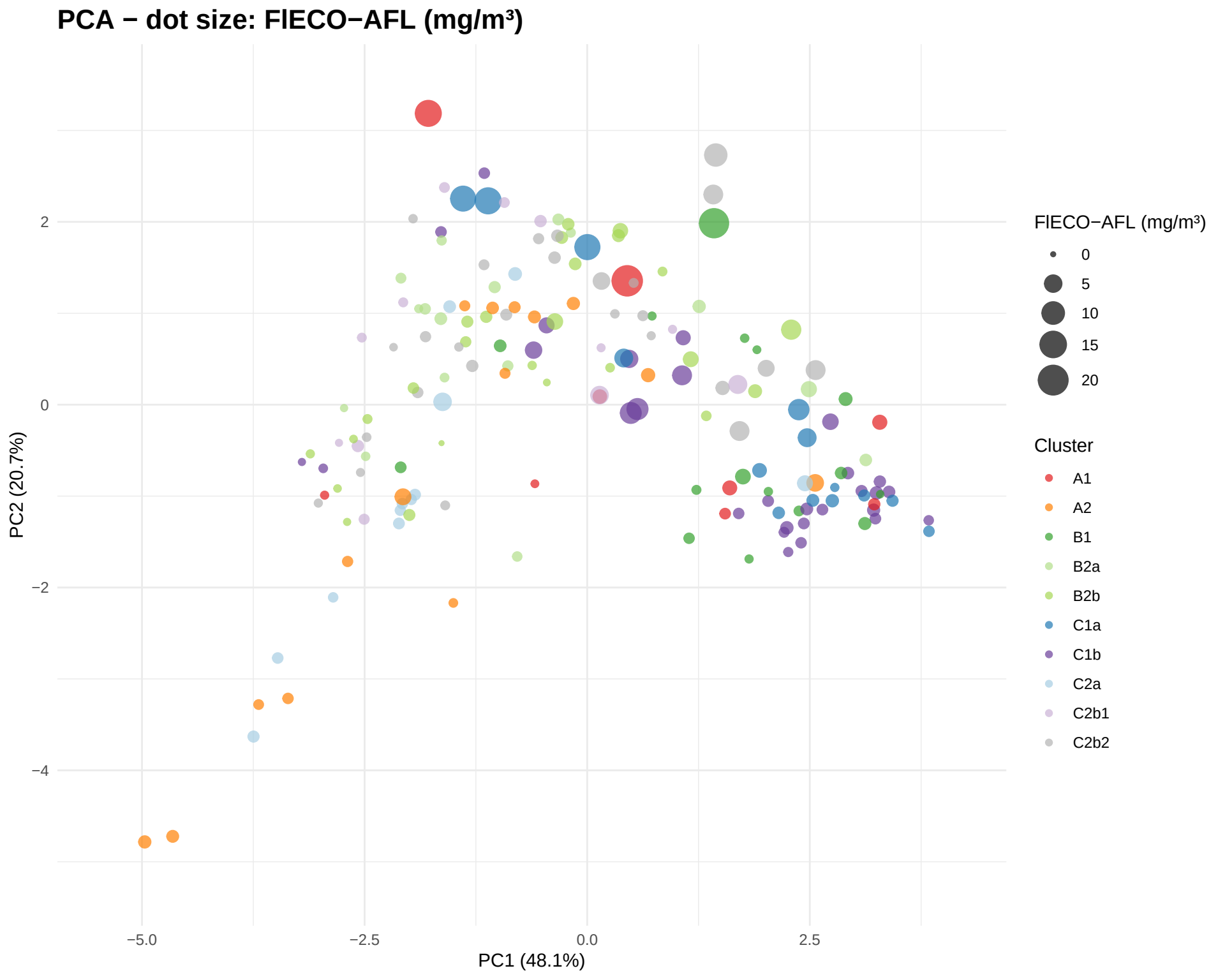
PCA − dot size: FIECO−AFL (mg/m³)
PC2 (20.7%)
PC1 (48.1%)
2
0
−2
−4
−5.0
−2.5
0.0
2.5
FIECO−AFL (mg/m³)
0
5
10
15
20
Cluster
A1
A2
B1
B2a
B2b
C1a
C1b
C2a
C2b1
C2b2

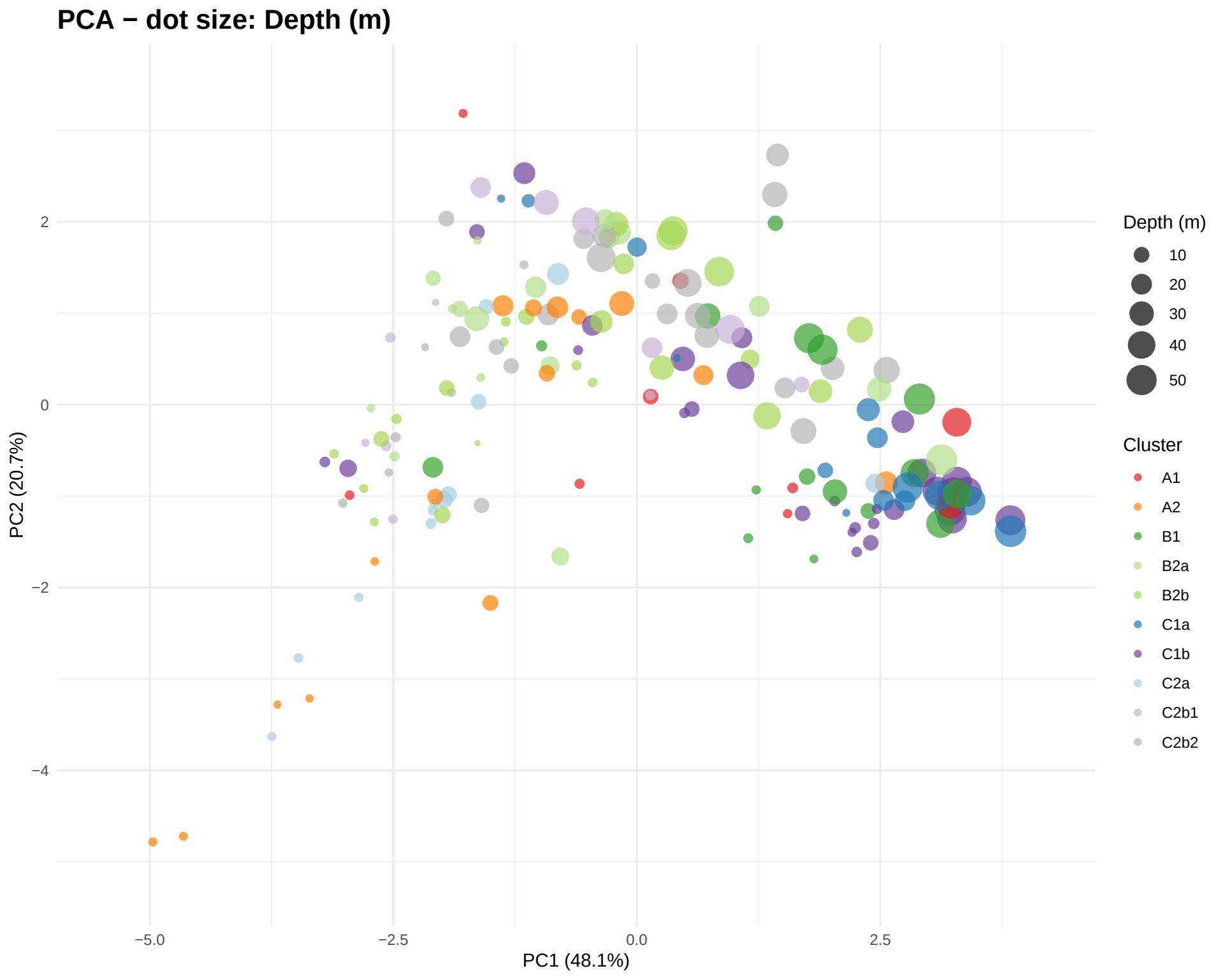
PCA − dot size: Depth (m)
PC2 (20.7%)
PC1 (48.1%)
2
0
−2
−4
−5.0
−2.5
0.0
2.5
Depth (m)
10
20
30
40
50
Cluster
A1
A2
B1
B2a
B2b
C1a
C1b
C2a
C2b1
C2b2

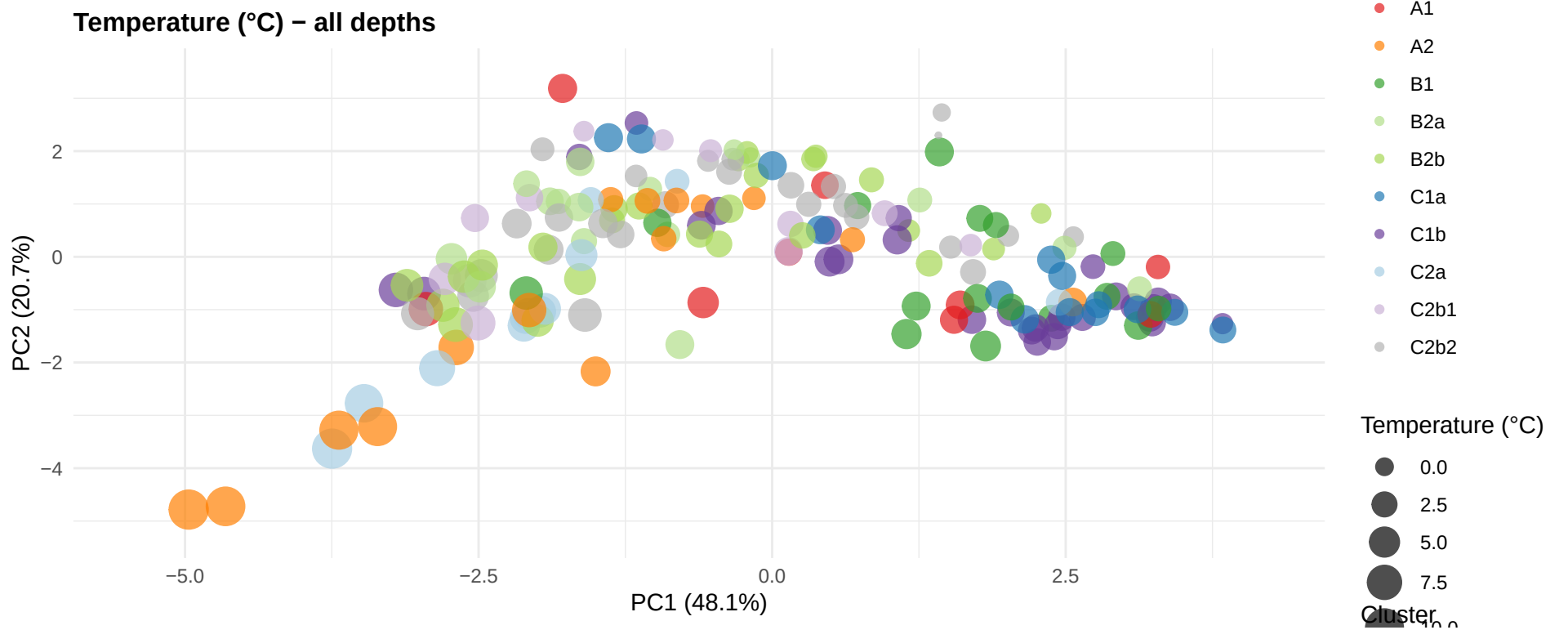
Temperature (°C) − all depths
PC2 (20.7%)
PC1 (48.1%)
2
0
−2
−4
−5.0
−2.5
0.0
2.5
A1
A2
B1
B2a
B2b
C1a
C1b
C2a
C2b1
C2b2
Temperature (°C)
0.0
2.5
5.0
7.5

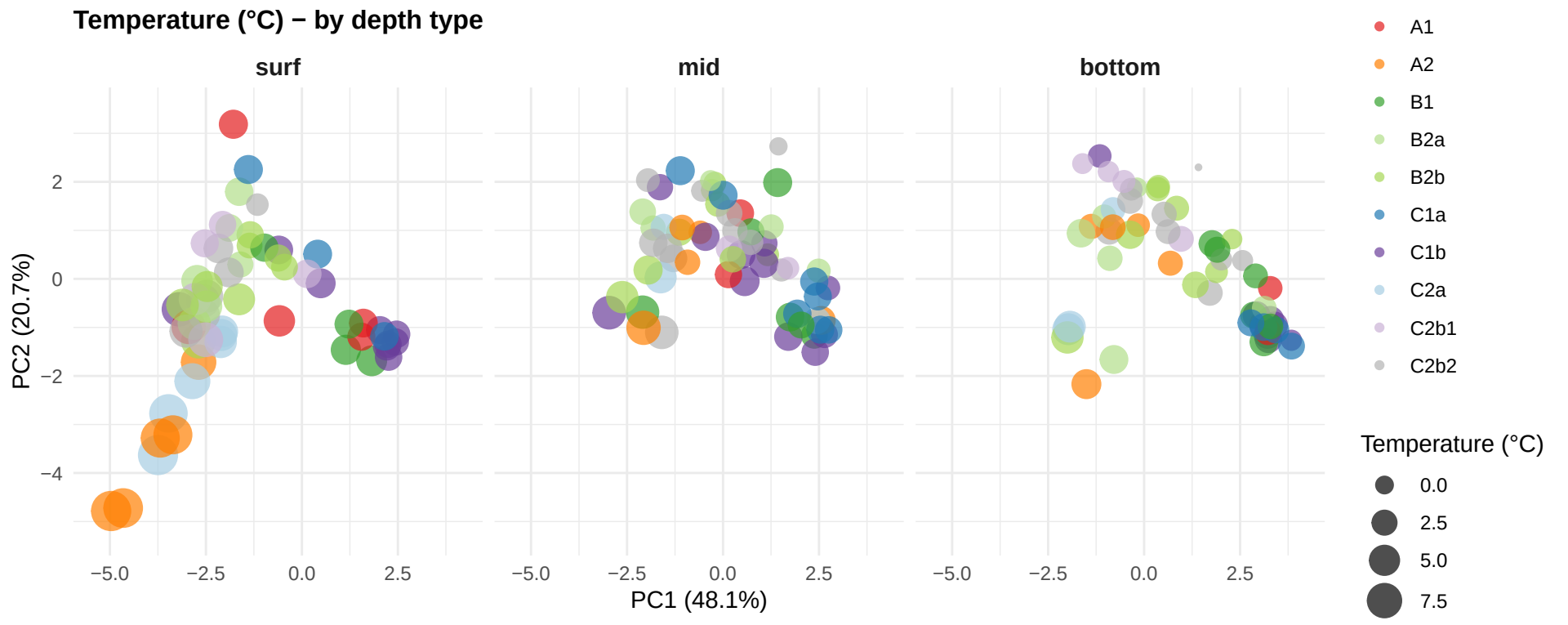
Temperature (°C) − by depth type
surf
mid
bottom
PC2 (20.7%)
PC1 (48.1%)
2
0
−2
−4
−5.0
−2.5
0.0
2.5
Cluster
A1
A2
B1
B2a
B2b
C1a
C1b
C2a
C2b1
C2b2
Temperature (°C)
0.0
2.5
5.0
7.5

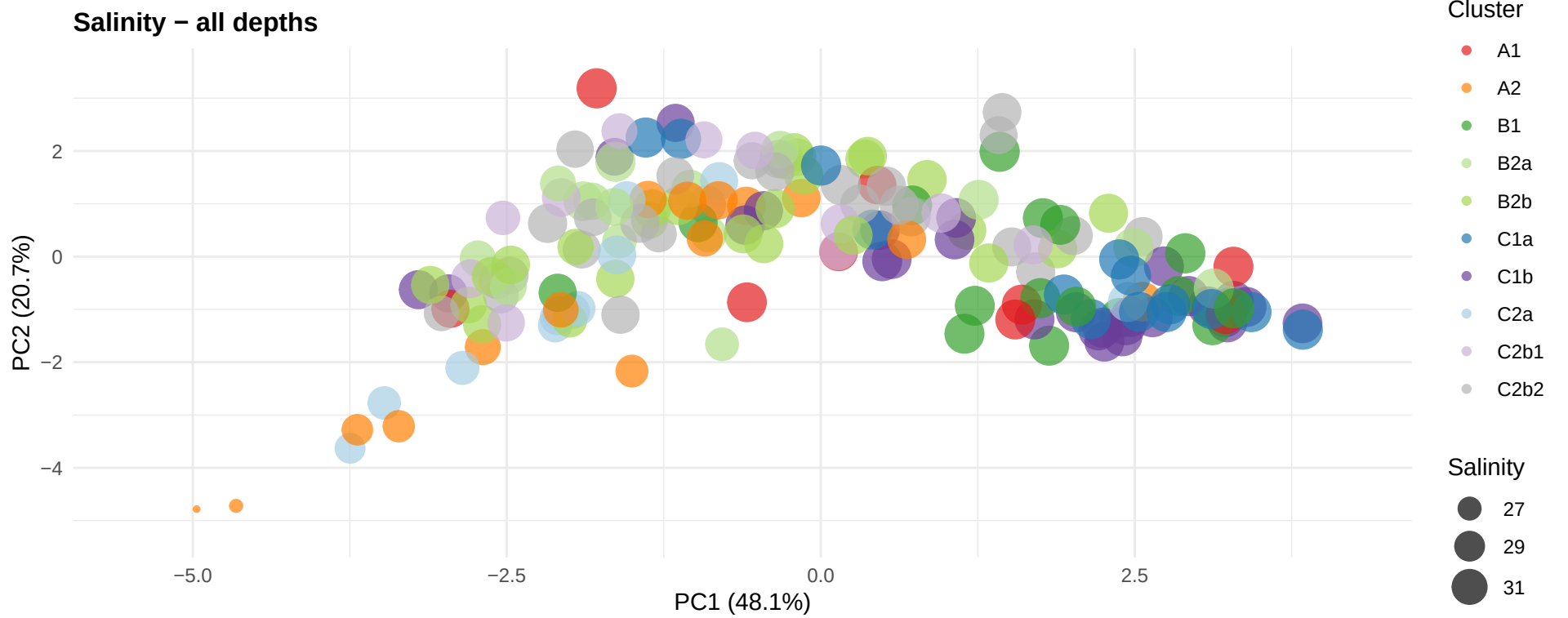
Salinity − all depths
PC2 (20.7%)
PC1 (48.1%)
2
0
−2
−4
−5.0
−2.5
0.0
2.5
Cluster
A1
A2
B1
B2a
B2b
C1a
C1b
C2a
C2b1
C2b2
Salinity
27
29
31

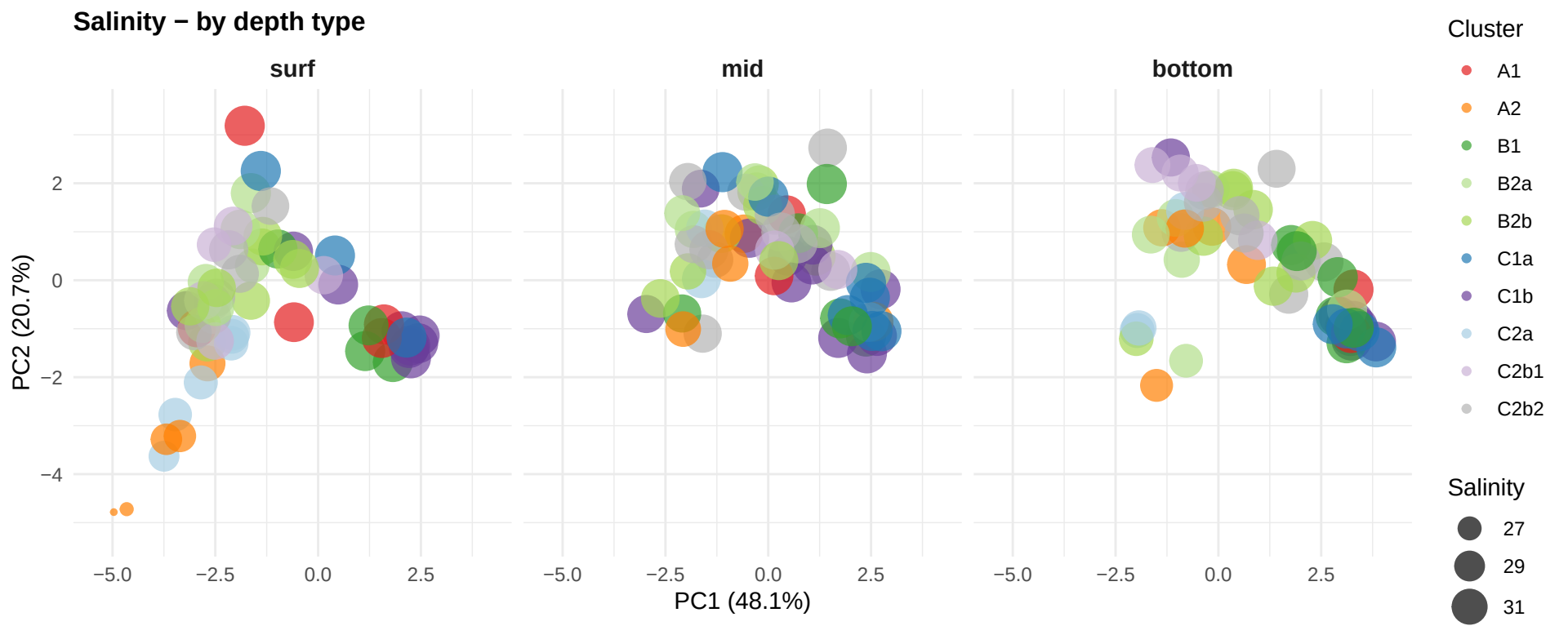
Salinity − by depth type
surf
mid
bottom
PC2 (20.7%)
PC1 (48.1%)
2
0
−2
−4
−5.0
−2.5
0.0
2.5
Cluster
A1
A2
B1
B2a
B2b
C1a
C1b
C2a
C2b1
C2b2
Salinity
27
29
31

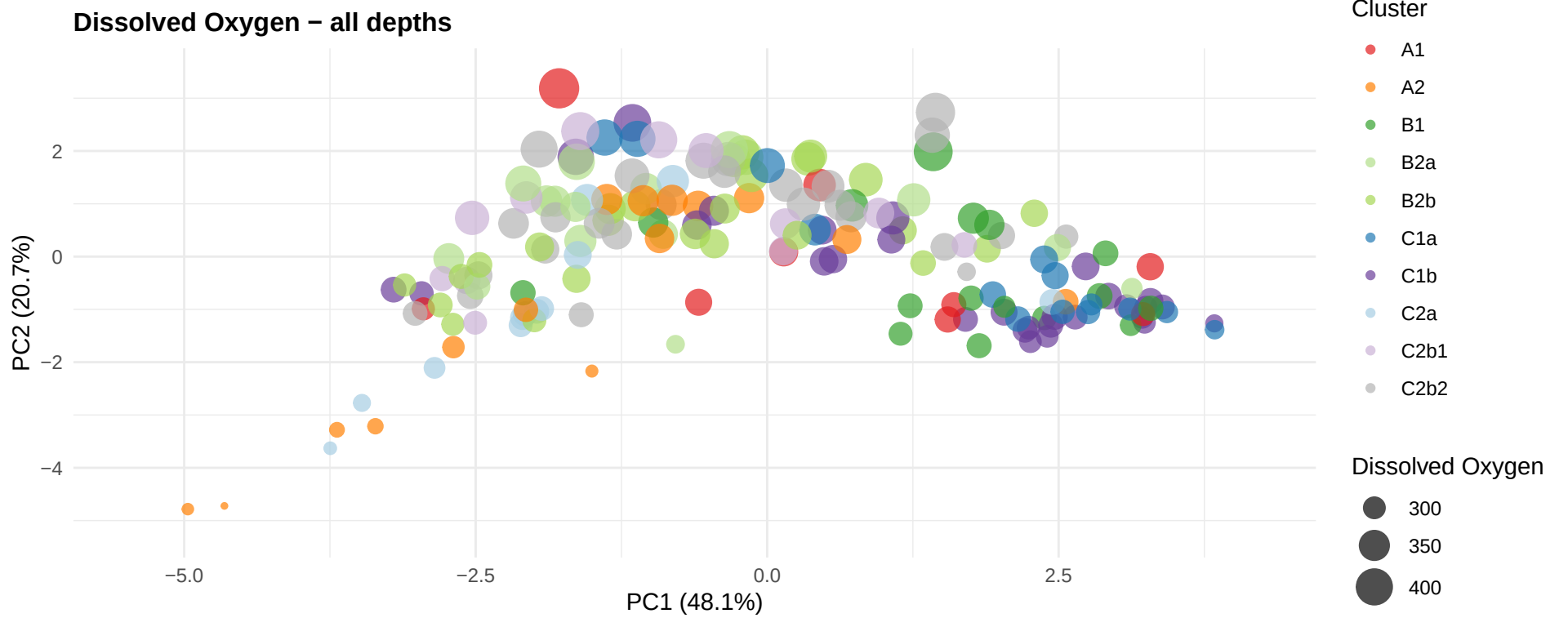
Dissolved Oxygen − all depths
PC2 (20.7%)
PC1 (48.1%)
2
0
−2
−4
−5.0
−2.5
0.0
2.5
Cluster
A1
A2
B1
B2a
B2b
C1a
C1b
C2a
C2b1
C2b2
Dissolved Oxygen
300
350
400

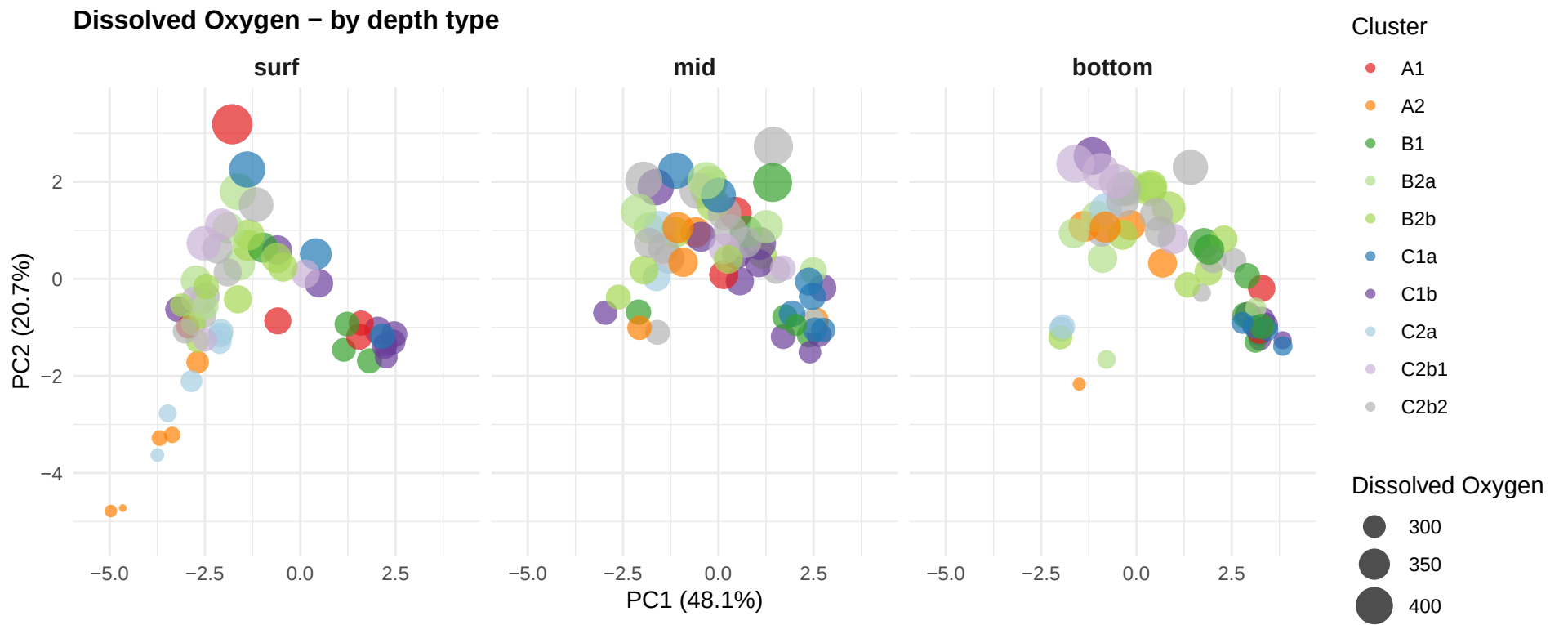
Dissolved Oxygen − by depth type
surf
mid
bottom
PC2 (20.7%)
PC1 (48.1%)
2
0
−2
−4
−5.0
−2.5
0.0
2.5
Cluster
A1
A2
B1
B2a
B2b
C1a
C1b
C2a
C2b1
C2b2
Dissolved Oxygen
300
350
400

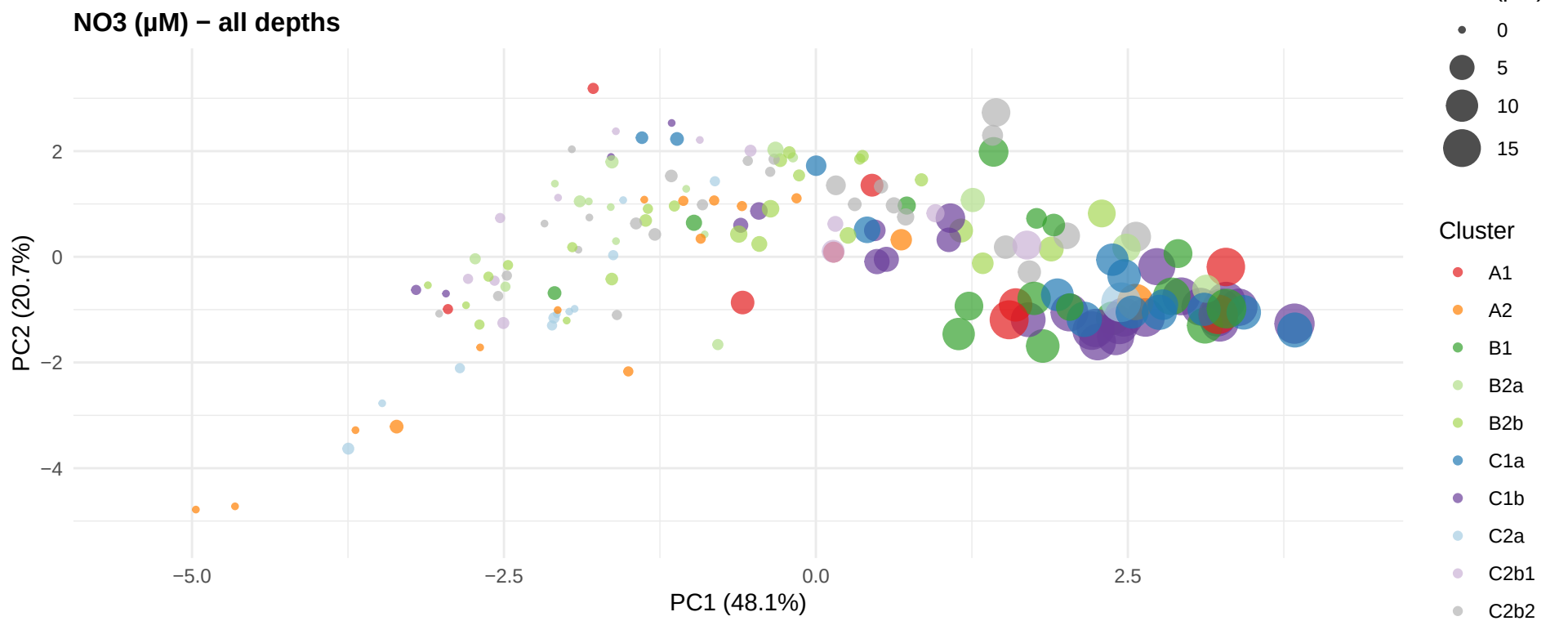
NO3 (µM) − all depths
PC2 (20.7%)
PC1 (48.1%)
2
0
−2
−4
−5.0
−2.5
0.0
2.5
0
5
10
15
Cluster
A1
A2
B1
B2a
B2b
C1a
C1b
C2a
C2b1
C2b2

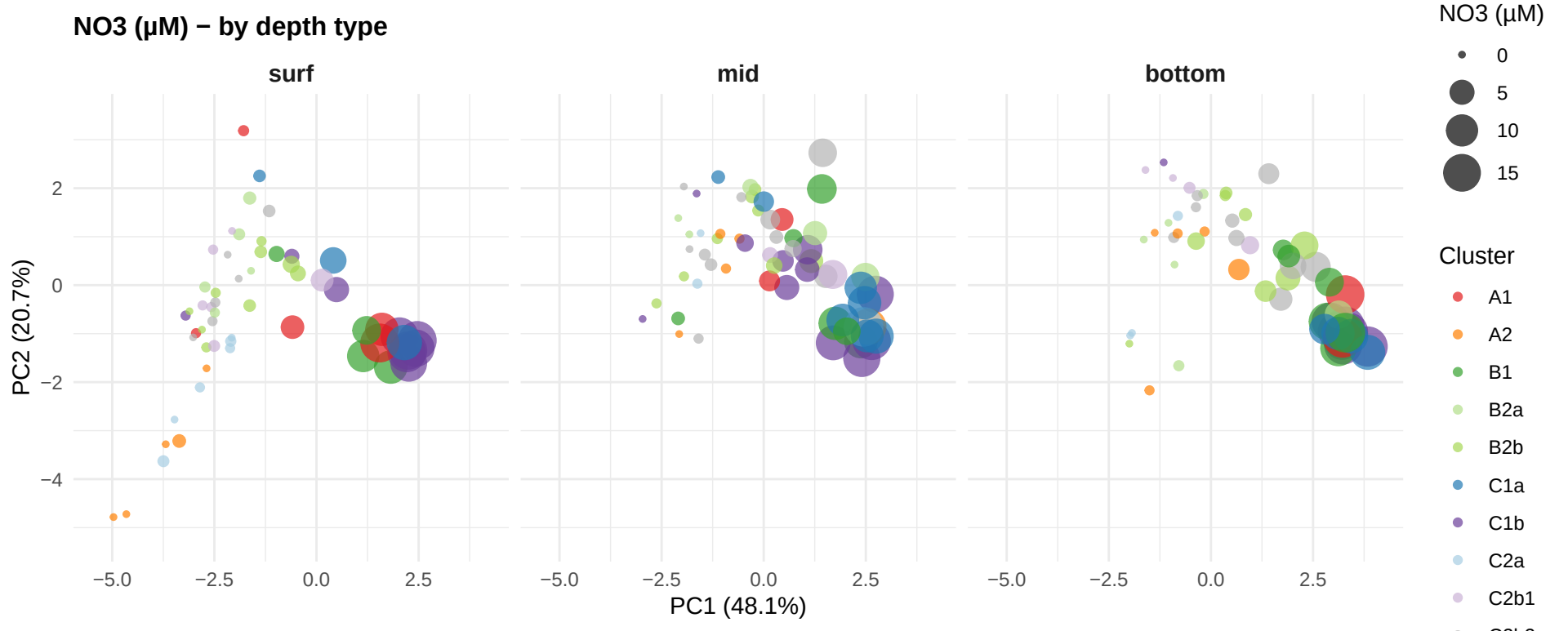
NO3 (µM) − by depth type
surf
mid
bottom
PC2 (20.7%)
PC1 (48.1%)
2
0
−2
−4
−5.0
−2.5
0.0
2.5
NO3 (µM)
0
5
10
15
Cluster
A1
A2
B1
B2a
B2b
C1a
C1b
C2a
C2b1

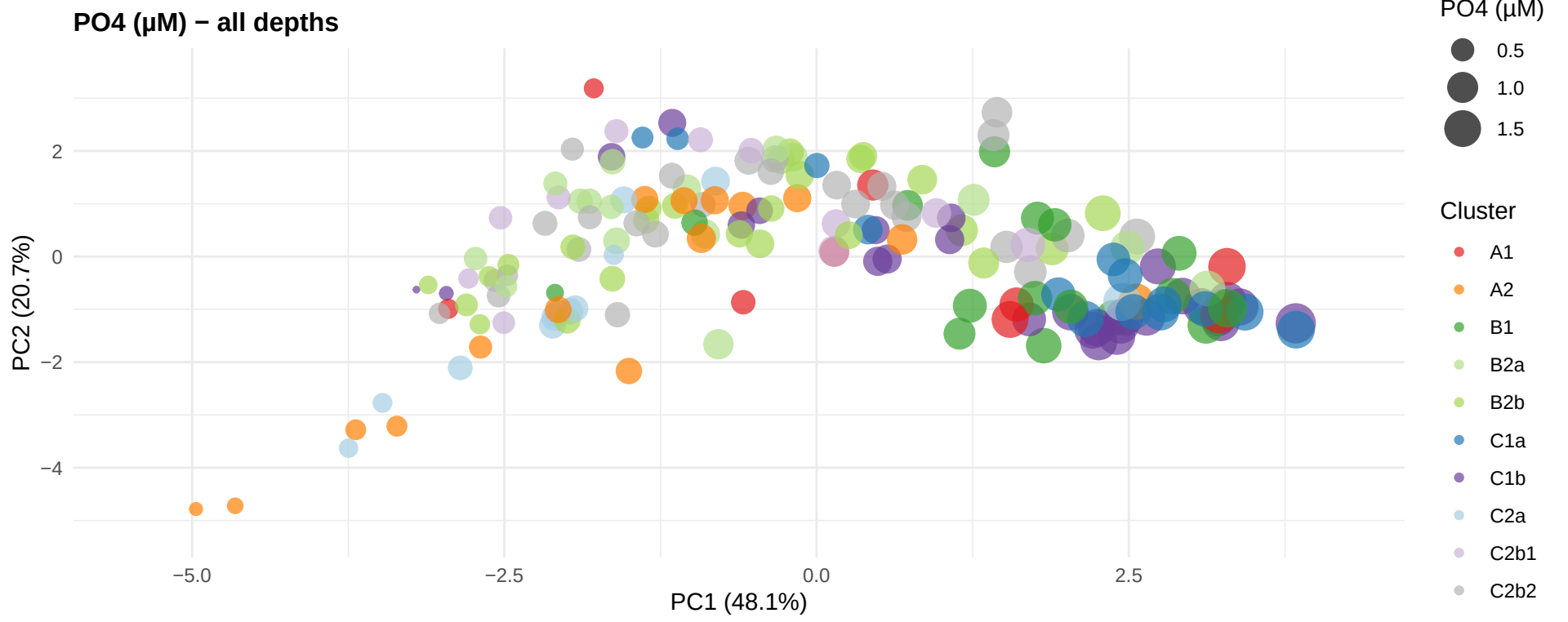
PO4 (µM) − all depths
PO4 (µM)
0.5
1.0
1.5
Cluster
A1
A2
B1
B2a
B2b
C1a
C1b
C2a
C2b1
C2b2
PC2 (20.7%)
PC1 (48.1%)
2
0
−2
−4
−5.0
−2.5
0.0
2.5

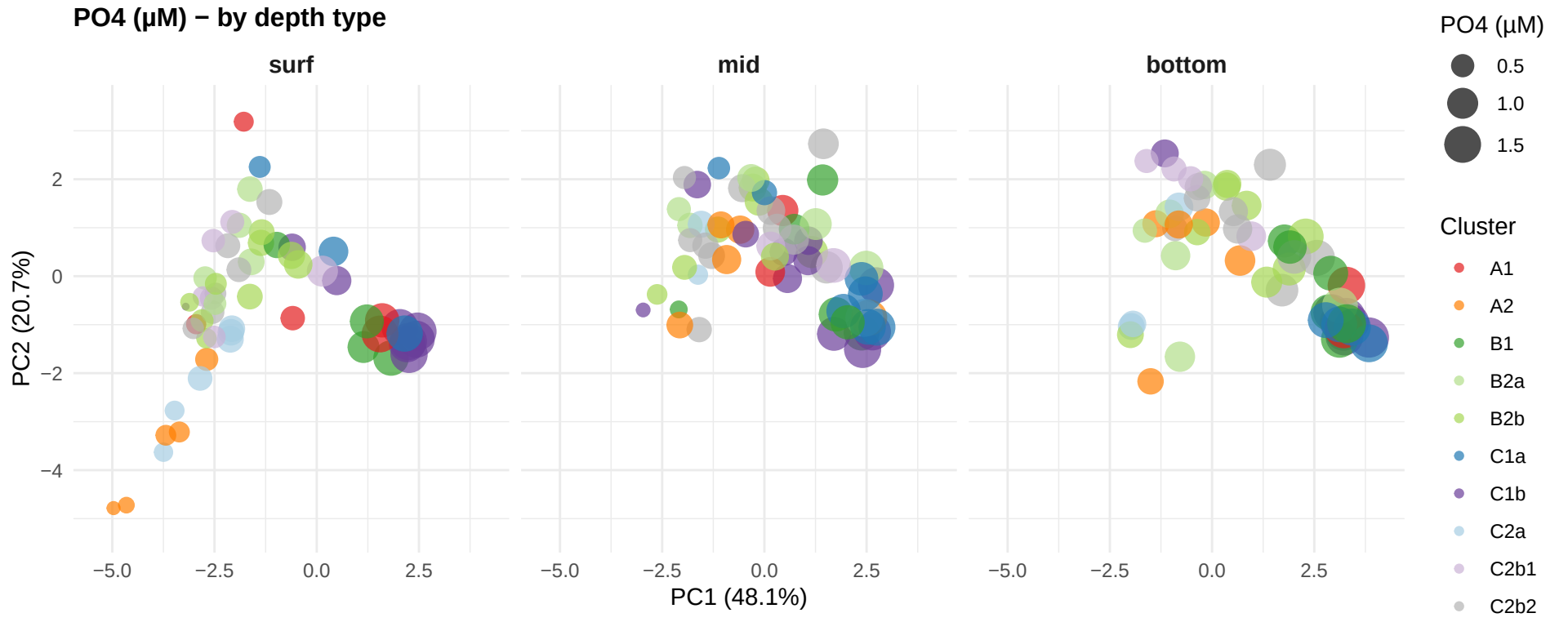
PO4 (µM) − by depth type
surf
mid
bottom
PO4 (µM)
0.5
1.0
1.5
Cluster
A1
A2
B1
B2a
B2b
C1a
C1b
C2a
C2b1
C2b2
PC2 (20.7%)
PC1 (48.1%)
2
0
−2
−4
−5.0
−2.5
0.0
2.5

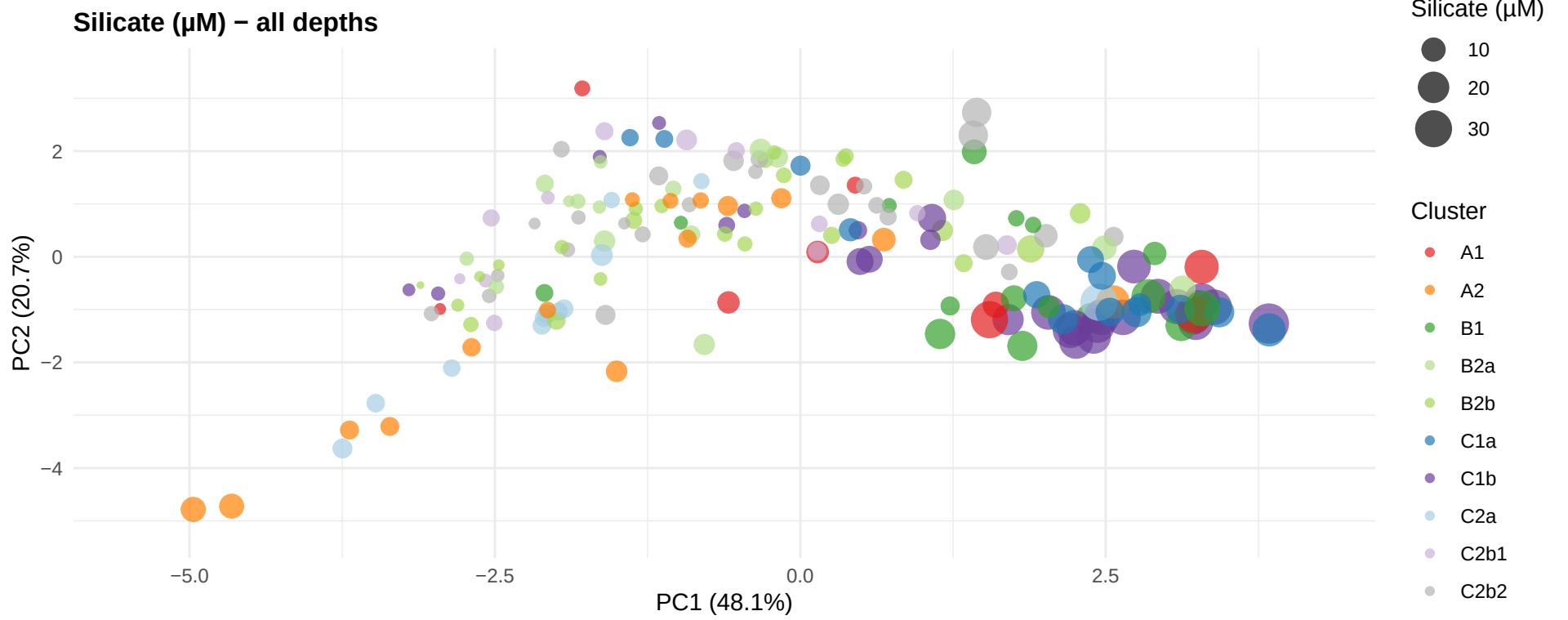
Silicate (µM) − all depths
Silicate (µM)
10
20
30
Cluster
A1
A2
B1
B2a
B2b
C1a
C1b
C2a
C2b1
C2b2
PC2 (20.7%)
PC1 (48.1%)
2
0
−2
−4
−5.0
−2.5
0.0
2.5

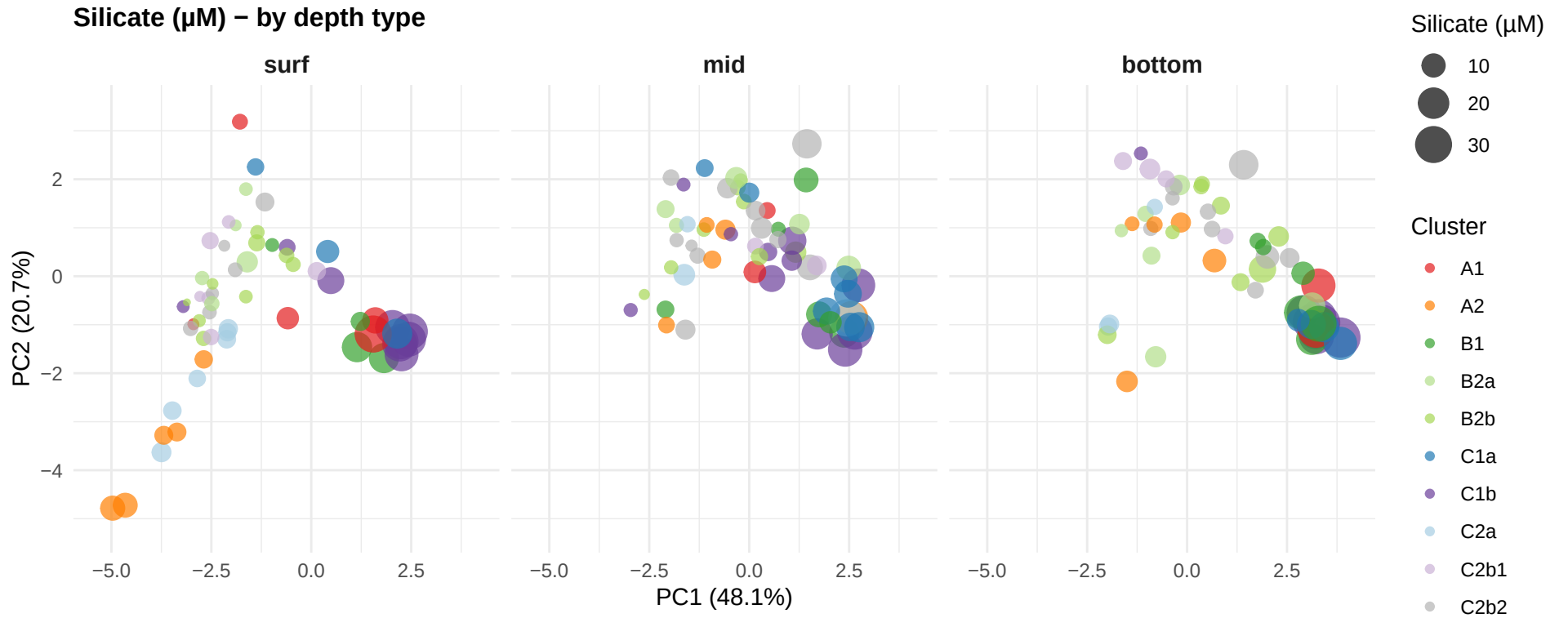
Silicate (µM) − by depth type
surf
mid
bottom
Silicate (µM)
10
20
30
Cluster
A1
A2
B1
B2a
B2b
C1a
C1b
C2a
C2b1
C2b2
PC2 (20.7%)
PC1 (48.1%)
2
0
−2
−4
−5.0
−2.5
0.0
2.5

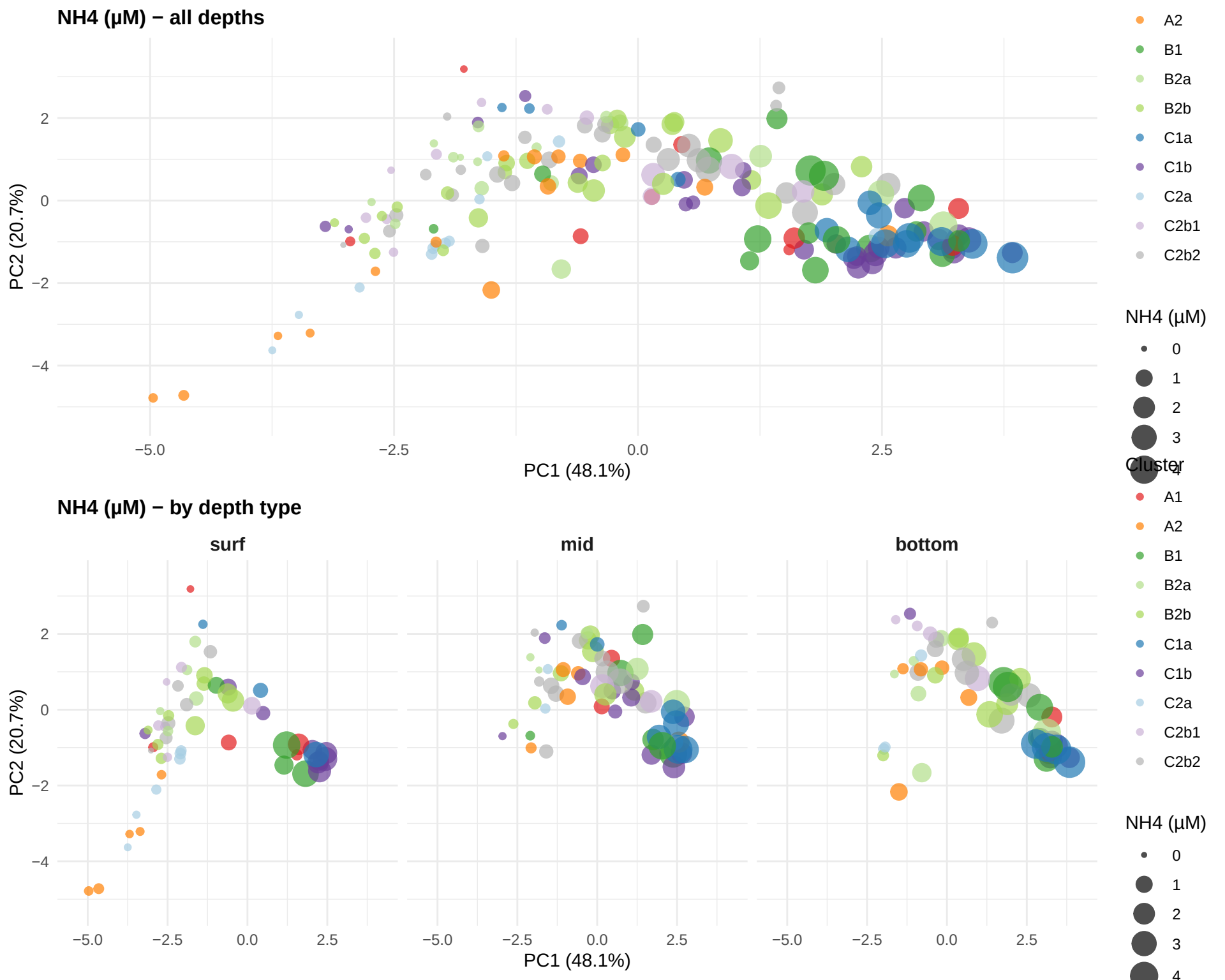
NH4 (µM) − all depths
PC2 (20.7%)
PC1 (48.1%)
2
0
−2
−4
−5.0
−2.5
0.0
2.5
A2
B1
B2a
B2b
C1a
C1b
C2a
C2b1
C2b2
NH4 (µM)
0
1
2
3
4
NH4 (µM) − by depth type
surf
mid
bottom
Cluster
A1
A2
B1
B2a
B2b
C1a
C1b
C2a
C2b1
C2b2
NH4 (µM)
0
1
2
3
4

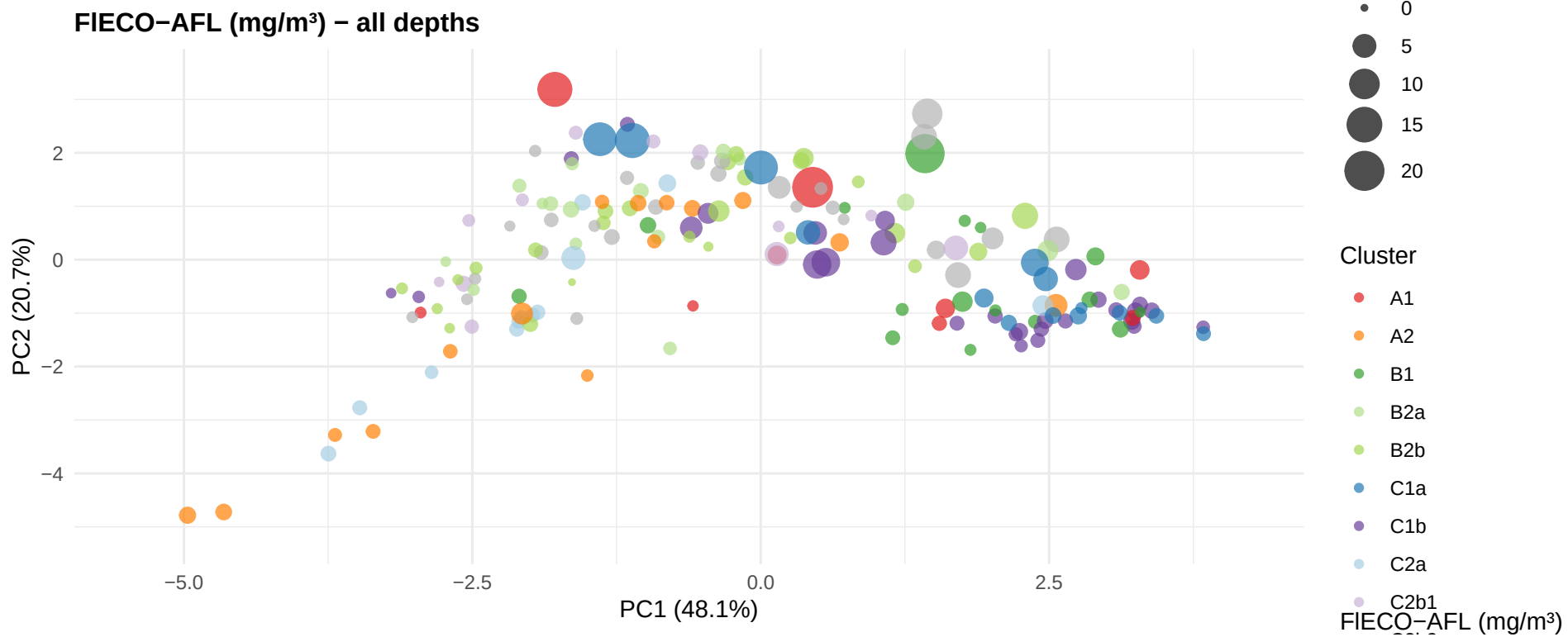
FIECO−AFL (mg/m³) − all depths
PC2 (20.7%)
PC1 (48.1%)
2
0
−2
−4
−5.0
−2.5
0.0
2.5
0
5
10
15
20
Cluster
A1
A2
B1
B2a
B2b
C1a
C1b
C2a
C2b1

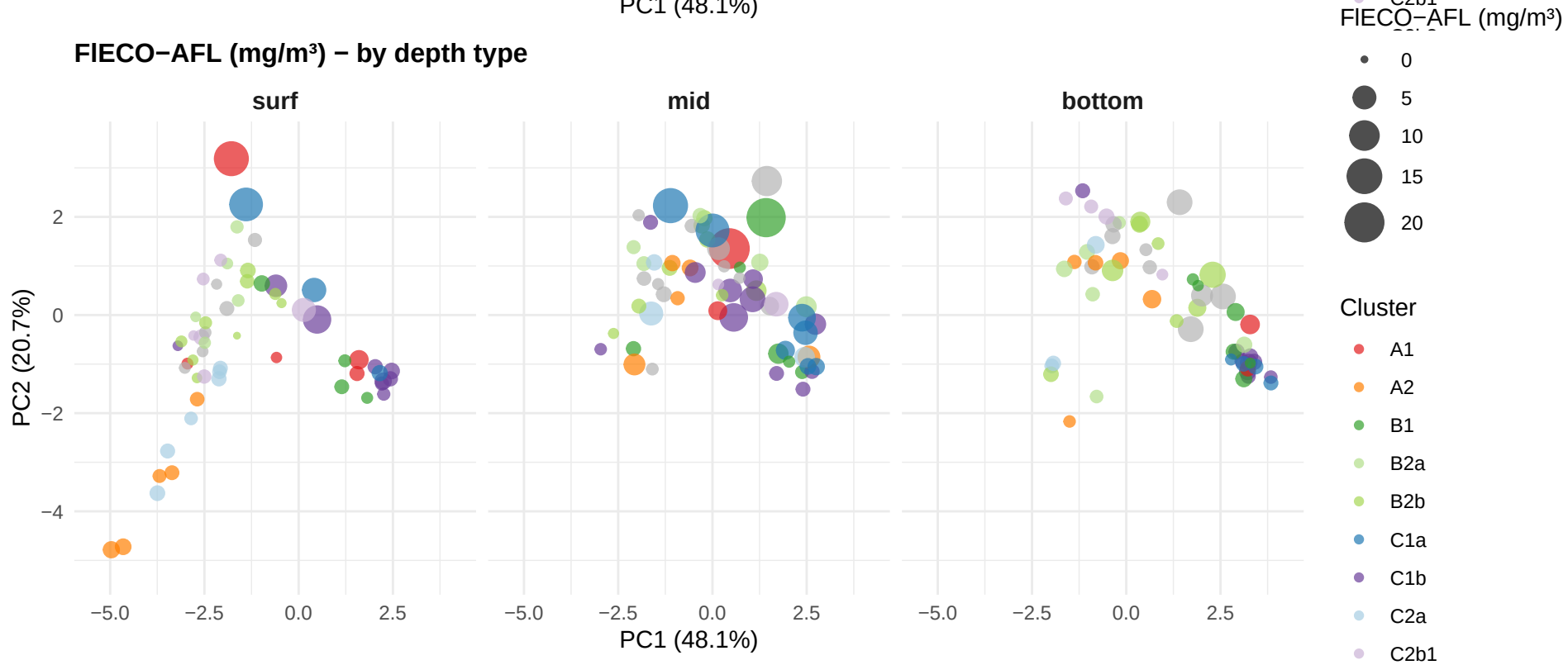
FIECO−AFL (mg/m³) − by depth type
surf
mid
bottom
PC2 (20.7%)
PC1 (48.1%)
2
0
−2
−4
−5.0
−2.5
0.0
2.5
FIECO−AFL (mg/m³)
0
5
10
15
20
Cluster
A1
A2
B1
B2a
B2b
C1a
C1b
C2a
C2b1

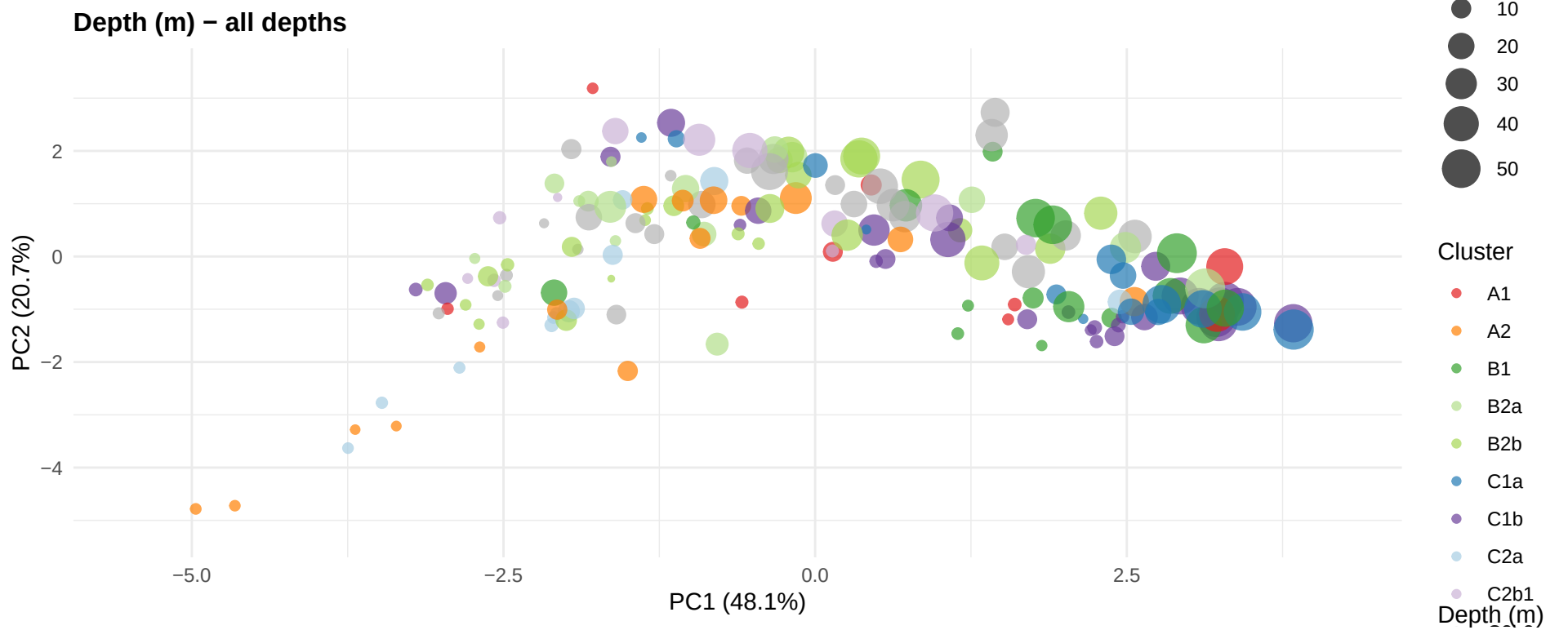
Depth (m) − all depths
PC2 (20.7%)
PC1 (48.1%)
2
0
−2
−4
−5.0
−2.5
0.0
2.5
Depth (m)
10
20
30
40
50
Cluster
A1
A2
B1
B2a
B2b
C1a
C1b
C2a
C2b1

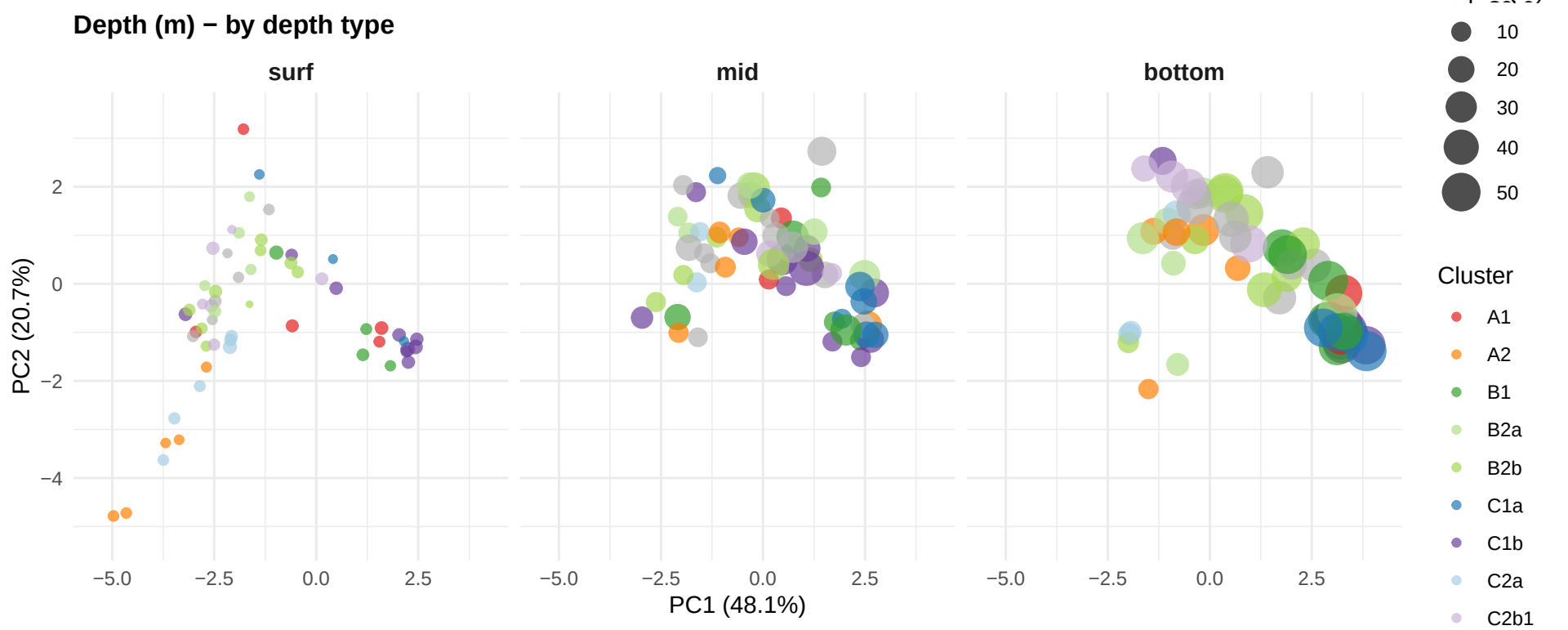
Depth (m) − by depth type
surf
mid
bottom
PC2 (20.7%)
PC1 (48.1%)
2
0
−2
−4
−5.0
−2.5
0.0
2.5
Depth (m)
10
20
30
40
50
Cluster
A1
A2
B1
B2a
B2b
C1a
C1b
C2a
C2b1